SAM 2026 / Venue & Access Information

The conference will take place at:

University of Bordeaux
146 rue Léo Saignat
33000 Bordeaux, France

- **Amphithéâtre Louis**
  ISPED – Bordeaux School of Public Health
- **Lecture halls 10, 11 and 12**

About the venue

The ISPED (Institute of Public Health, Epidemiology and Development) is located on the Carreire campus, one of the main hubs for health and biomedical research in Bordeaux. The site hosts leading research teams in public health, epidemiology, biostatistics, and clinical research.

The symposium sessions will take place in the main conference center. Signage and on-site assistance will be available to guide participants upon arrival.

Getting there

By plane

Bordeaux-Mérignac Airport (BOD) offers direct connections to major European cities.

Travel time to venue: ~30 minutes by tram A (Stop at Hopital Pellegrin) or taxi.

By train

Bordeaux Saint-Jean railway station connects to major cities including Paris (~2 hours by TGV).

Travel time to venue: ~30 minutes by tram, bus, or taxi.

Public transport

The Carreire campus is accessible via tram lines A and F, as well as several bus routes.

Detailed directions will be provided before the event.

Site web tbm : https://www.infotbm.com/en

Site plans :

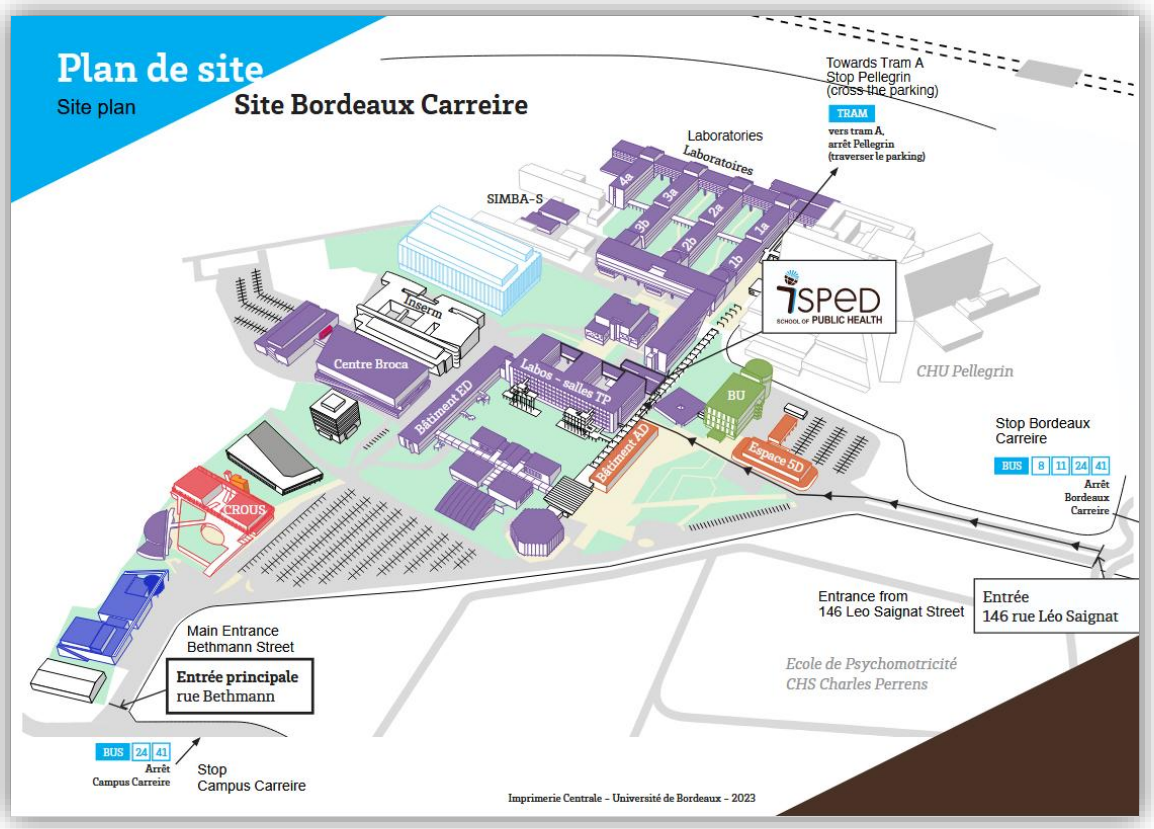
Plan de site
Site plan
Site Bordeaux Carreire
Towards Tram A
Stop Pellegrin
(cross the parking)
TRAM
vers tram A,
arrêt Pellegrin
(traverser le parking)
Laboratories
Laboratoires
SIMBA-S
4a
3a
3b
2a
2b
1a
1b
Insern
Centre Broca
Bâtiment ED
Labos - salles TP
BU
Bâtiment AD
Espace 5D
SPED
SCHOOL OF PUBLIC HEALTH
CHU Pellegrin
Stop Bordeaux
Carreire
BUS 8 11 24 41
Arrêt
Bordeaux
Carreire
CROUS
Entrance from
146 Leo Saignat Street
Entrée
146 rue Léo Saignat
Main Entrance
Bethmann Street
Entrée principale
rue Bethmann
Ecole de Psychomotricité
CHS Charles Perrens
BUS 24 41
Arrêt
Campus Carreire
Stop
Campus Carreire
Imprimerie Centrale - Université de Bordeaux - 2023

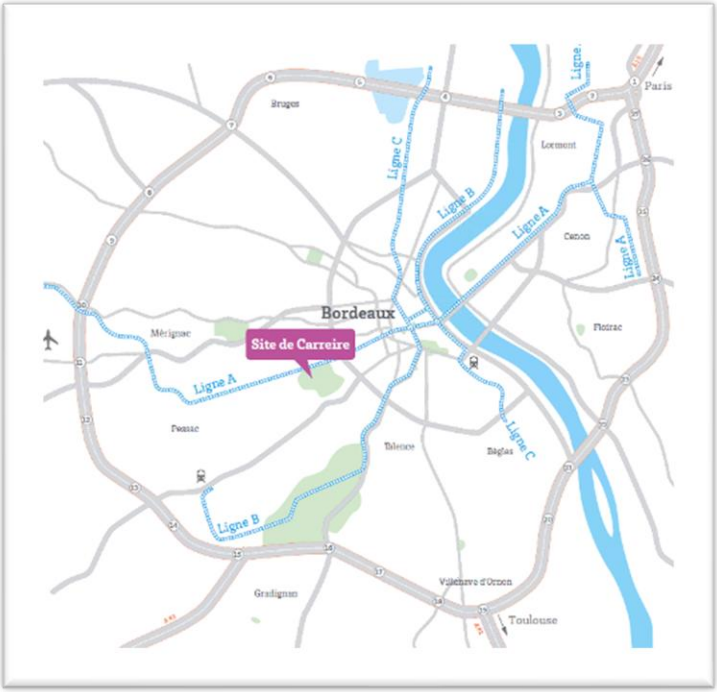
Paris
Bruges
Lormont
Ligne C
Ligne B
Ligne A
Cenon
Bordeaux
Site de Carreire
Mérignac
Flottac
Pessac
Talence
Bègles
Gradignan
Villenave d'Ornon
Toulouse

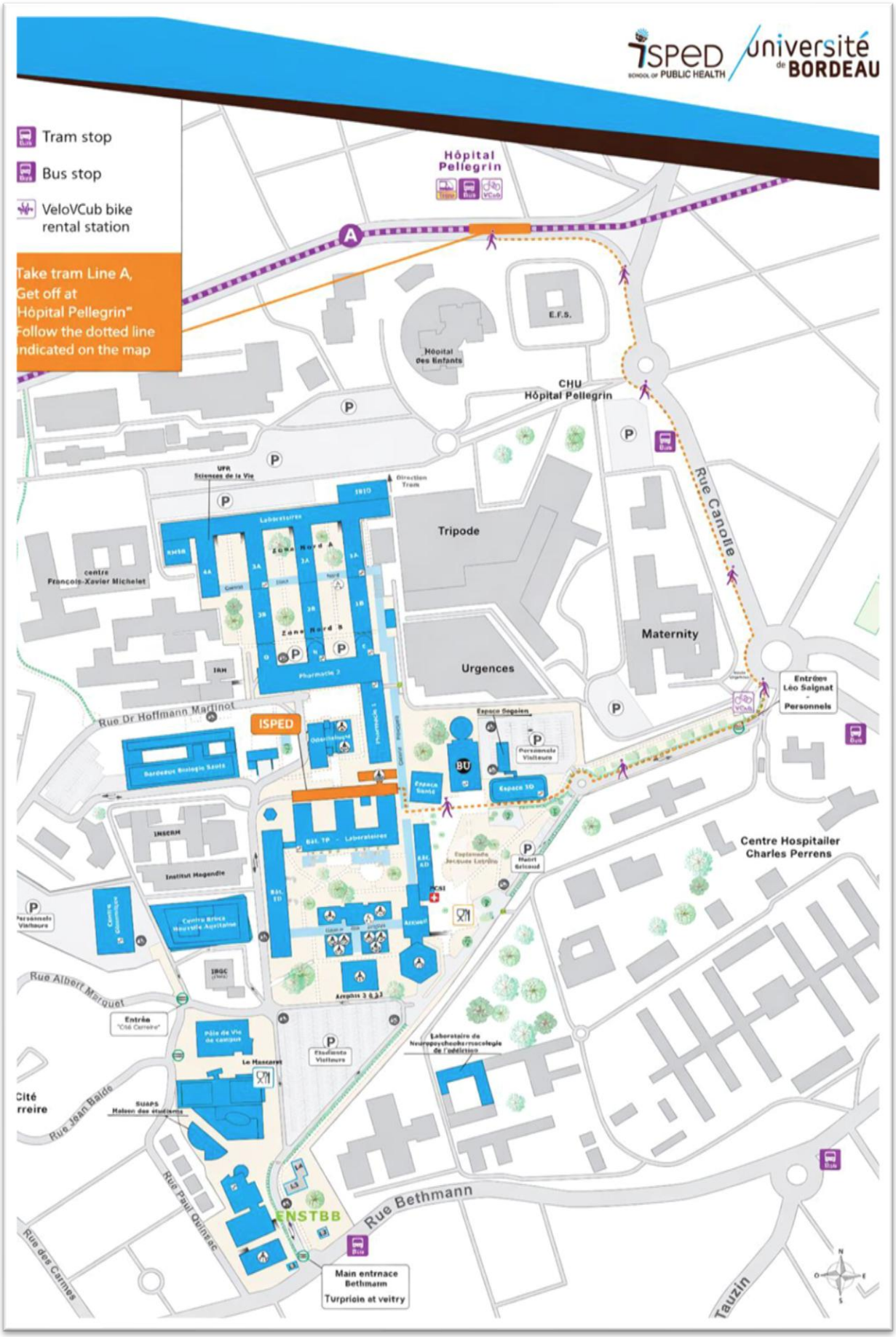
ISPED SCHOOL OF PUBLIC HEALTH
université de BORDEAU
Tram stop
Bus stop
VeloVCub bike rental station
Take tram Line A,
Get off at
"Hôpital Pellegrin"
Follow the dotted line
indicated on the map
Hôpital Pellegrin
E.F.S.
Hôpital des Enfants
CHU Hôpital Pellegrin
Rue Canolle
Tripode
Maternity
Urgences
Entrées Léo Saignat - Personnels
Rue Dr Hoffmann Martinot
ISPED
Centre Hospitalier Charles Perrens
Rue Albert Marquet
Entrée "Cité Carrère"
Rue Jean Balde
Rue Paul Quinsac
ENSTBB
Rue Bethmann
Rue des Carmes
Tauzin
Main entrance Bethmann
Turpriole at veitry

Walking directions from the tram to ISPED

1. Get off at "Hôpital Pellegrin" (Tram Line A) : Exit the tram and head towards the ospital buildings.

2. Walk straight through the hospital area Follow signs for **"CHU Pellegrin":** Keep going straight (do not turn)

3. Follow the main road (Rue Canolle) You will pass large hospital buildings on your left

4. Continue until you reach the university campus Look for signs for **"Université de Bordeaux"**

5. Follow signs t "ISPED" The building is near the **University Library (BU)**

Walking time

~10 minutes

Bordeaux: Where Wine, Culture, and Charm Unite

Bordeaux, in the heart of southwestern France, is the capital of wine and elegance. Stroll along its vibrant riverfront, admire classic architecture, and savor exquisite cuisine. A city where culture, lifestyle, and friendliness meet around every corner.